COLORADO STATE UNIVERSITY

Forecasting the Future: *Corn-for-Grain Yields*

By Team 12 : Will Code for Corn 🌽❤️

DevNet Hackathon 2026

Meet Our Team

Maxwell Freeman

Computer Engineer, Freshmen

I wanted to experience some high level programming and challenge myself.

Catalina Alcaraz

Computer Science, Soph

I wanted to try something new and challenge myself by working on real world problems, plus I got to meet new people!

Jacob Auman

Mech Engr, Graduating

I joined the hackathon because I love working on challenging problems!

Jacob Christensen

Computer Sci, Soph/Jr

Meet a few people, learn a few things

SUSTAINABLE DEVELOPMENT GOALS

2 ZERO HUNGER

THE SUSTAINABLE DEVELOPMENT GOALS REPORT 2023: SPECIAL EDITION- UNSTATS.UN.ORG/SDGS/REPORT/2023/

Source: https://sdgs.un.org/goals/goal2

Problem Statement

Create an efficient ML model that can accurately predict corn yields without the need of surveys every growing season.

We are aiming to develop this model such that it can accurately predict the amount of corn that will be yielded in a give year, allowing the NASS to save significant funds and time.

Stakeholder Interview Results

Currently the USDA NASS needs:

- ~1,600 personnel needed in field.
- This cost $1,500,000 $ per survey,
- **Four times a year** recurring cost and scale.

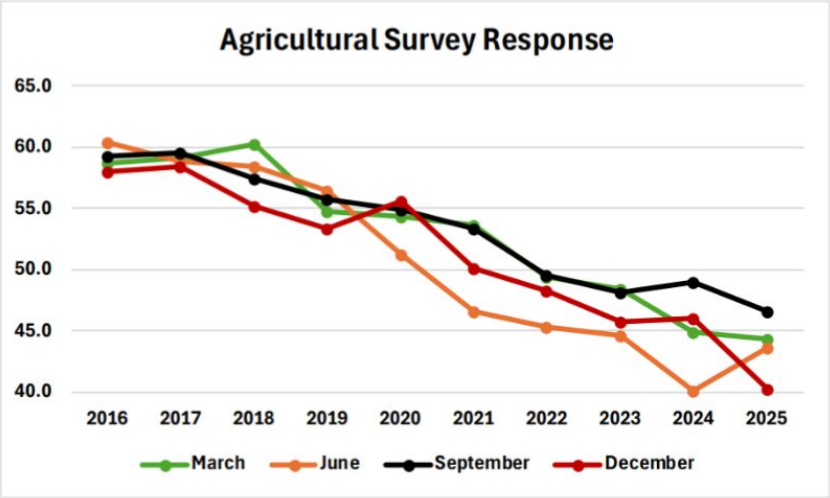

But this is an operational risk, as participation declines year over year

The statistical power of each estimate will decrease.

“Every 5 years, for the Census of Agriculture we send out surveys to nearly 3 Million Farmers

…

~ 40% don’t respond.”

Our Solution

Benefits

- Using our model will allow the USDA and NASS to save significant funds and time
- Companies can use this to adjust their pricing for the amount of corn thats going to be available
- Farmers can use the predicted price to estimate profit margins and budget accordingly

Features

- Estimates yearly corn yields using local weather and climate data, as well as Saturn satellite imagery
- Training based on state to improve predictions across large geographic areas.
- Extensible model allows for easy integration of additional datasets

Model Architecture

When looking at the shape of the challenge and the data available we identified key features:

- Long Historical Record at fixed intervals
- Spatial Groupings of each county within each state.

Temporal Fusion Transformer

Was designed by Google Researchers to address this exact style of problem.

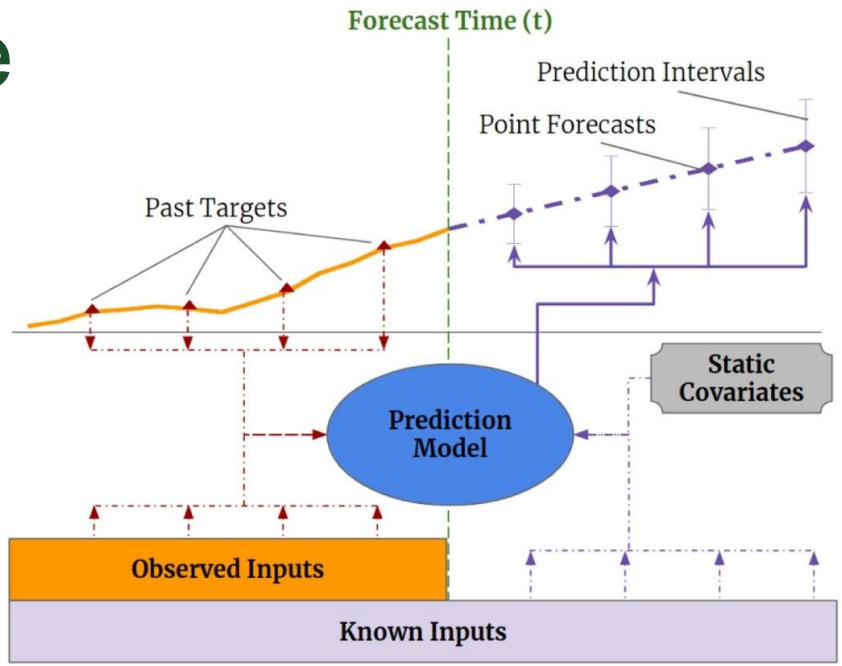

Lim, Bryan, et al. "Temporal fusion transformers for interpretable multi-horizon time series forecasting." *International journal of forecasting* 37.4 (2021): 1748-1764.

Pipeline Architecture

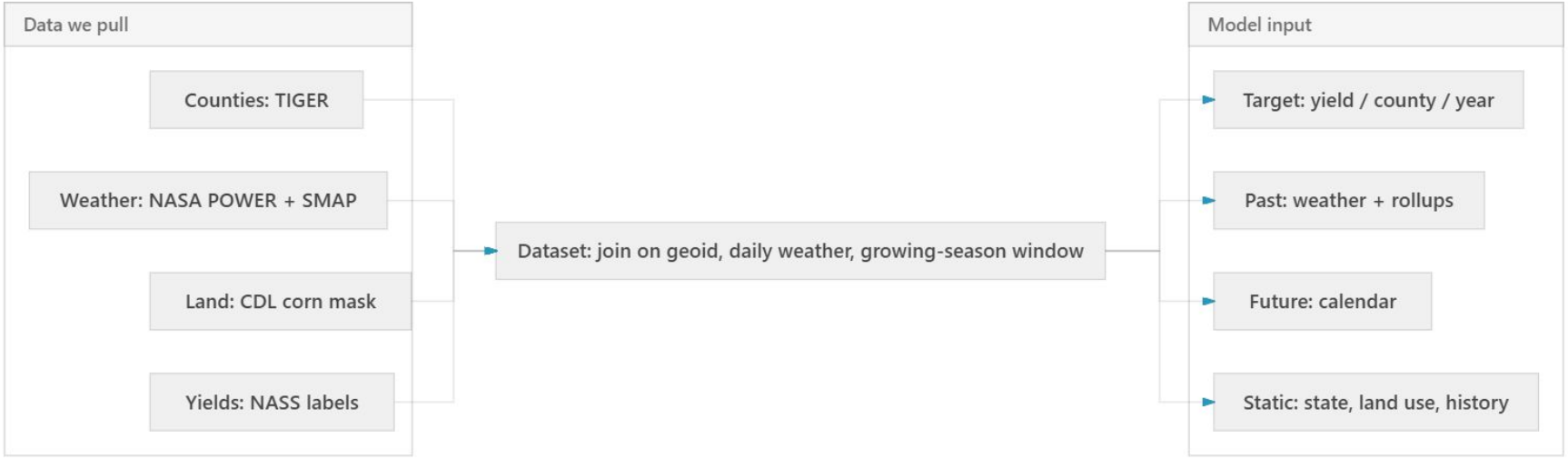

Harmonized Landsat Sentinel-2 Findings

Timing the Search:

Prioritizing biological growing seasons to target the exact **2-week** windows—like July pollination—when corn is most sensitive to stress. This helps ignore seasonal noise and "pay attention" to the moments that actually determine harvest volume.

Translating Pixels to Data:

Since raw satellite photos are too complex for a model to read directly, by using Prithvi to translate images into "digital fingerprints." This can distill millions of pixels into 64 key features, giving the TFT a clear mathematical summary of crop health.

Connecting the Dots:

Satellites are often blocked by clouds, leaving "holes" in the data. Ideally we could fill these gaps by connecting the dots between snapshots, turning scattered images into a smooth daily timeline so the TFT can track the crop’s progress without interruption.

Personal Takeaways

- Great tools exist, don’t be intimidated by hard problems.
-